Australian Government
Bureau of Meteorology

# NT Flood Scenarios Outlook

for parts of the Top End

FOR OFFICIAL USE ONLY. Not for onward distribution. For use by emergency services agencies only, as a guide for preparedness. Information presented is uncertain.

ISSUE NUMBER - 3

ISSUE TIME
**22/03/2026 11:04 ACST**

START TIME OF FORECAST
**22/03/2026 10:30 ACST**

## Event Description

- Additional areas of minor to major flooding possible across parts of the Top End from Sunday
- Widespread heavy to locally intense rainfall forecast with TC Narelle
- Catchments are wet to saturated across the Top End and will respond rapidly to heavy rainfall
- Major flood warnings are current for the Katherine, Lower Daly and Waterhouse Rivers and moderate flood warning for the Upper Adelaide River
- A Flood Watch, Tropical Cyclone Advice and Severe Weather Warning are current for parts of the Northern Territory

## Scenario 1
**Most Likely**

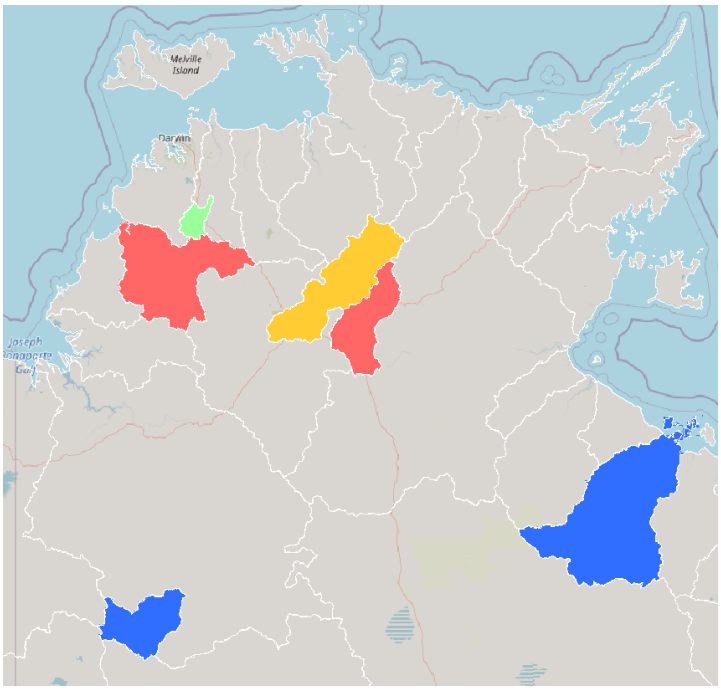


## Scenario 2
**Higher Possible**

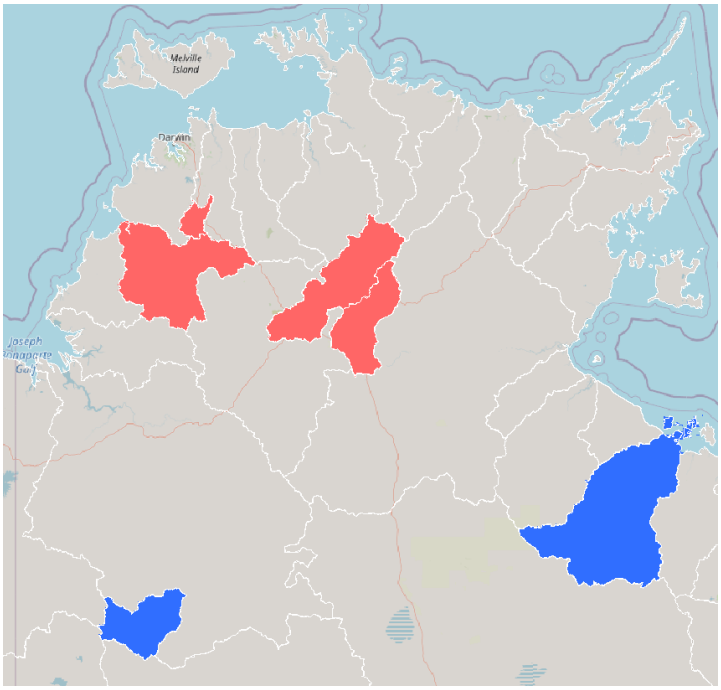


Below Flood Level | Minor | Moderate | Major | No Scenario

*Maps show the highest flood classification reached in each area based on the 7-day model runs.*

This report is produced to assist emergency services to plan and prepare for flood events. The scenarios presented use forecast rainfall and estimates of catchment wetness and rainfall losses, and are uncertain. The scenarios are based on the best available information at the time of issue, however actual river levels may differ from those shown in this report. Remember to check flood watches and flood warnings for the latest official forecasts.

# NT Flood Scenarios Outlook

Upper Victoria River

FOR OFFICIAL USE ONLY. Not for onward distribution. For use by emergency services agencies only, as a guide for preparedness. Information presented is uncertain.

## Scenario 1 - Upper Victoria River

| No | Site Name | Highest Modelled Level (m) | Time/Date |
|---|---|---|---|
| 1 | Kalkarindji | 2.2 | 25/03/2026 03:30 ACST |

### 7-DAY-OUTLOOK: Modelled Flood Level - Onwards from 22/03/2026 10:30, 6 hr increments

| No | Site Name | 22/03 | 23/03 | 24/03 | 25/03 | 26/03 | 27/03 | 28/03 | 29 |
|---|---|---|---|---|---|---|---|---|---|
| 1 | Kalkarindji | | | | | | | | |

## Scenario 2 - Upper Victoria River

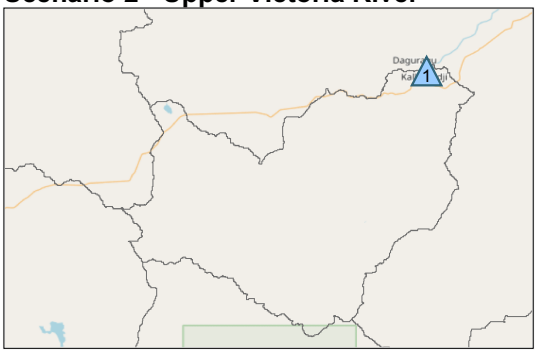


| No | Site Name | Highest Modelled Level (m) | Time/Date |
|---|---|---|---|
| 1 | Kalkarindji | 2.6 | 24/03/2026 15:30 ACST |

### 7-DAY-OUTLOOK: Modelled Flood Level - Onwards from 22/03/2026 10:30, 6 hr increments

| No | Site Name | 22/03 | 23/03 | 24/03 | 25/03 | 26/03 | 27/03 | 28/03 | 29 |
|---|---|---|---|---|---|---|---|---|---|
| 1 | Kalkarindji | | | | | | | | |

Below Flood Level | Minor | Moderate | Major | No Scenario

*Maps show the highest flood classification reached in each area based on the 7-day model runs.*

**About this product**

- The river levels in this product are direct outputs from hydrological models, with limited forecaster input. The scenarios presented use forecast rainfall and estimates of catchment wetness and rainfall losses, and are uncertain.
- The highest river height modelled within the 7-day period may not necessarily equate to the peak height for this event, as some slower-responding sites may peak after this period.
- Forecast locations, as defined in the Service Level Specification (SLS) for each State/Territory, and with modelling capability available, are included.
- Remember to check flood watches and flood warnings for the latest official forecasts.

# NT Flood Scenarios Outlook

Upper Adelaide River

FOR OFFICIAL USE ONLY. Not for onward distribution. For use by emergency services agencies only, as a guide for preparedness. Information presented is uncertain.

## Scenario 1 - Upper Adelaide River

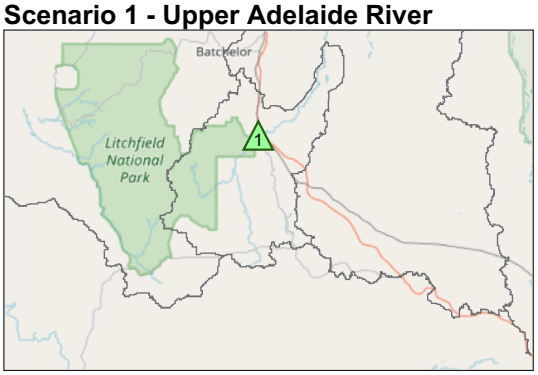


| No | Site Name | Highest Modelled Level (m) | Time/Date |
|---|---|---|---|
| 1 | Adelaide River Town | 11.7 | 23/03/2026 07:30 ACST |

### 7-DAY-OUTLOOK: Modelled Flood Level - Onwards from 22/03/2026 10:30, 6 hr increments

| No | Site Name | 22/03 | 23/03 | 24/03 | 25/03 | 26/03 | 27/03 | 28/03 | 29 |
|---|---|---|---|---|---|---|---|---|---|
| 1 | Adelaide River Town | | | | | | | | |

## Scenario 2 - Upper Adelaide River

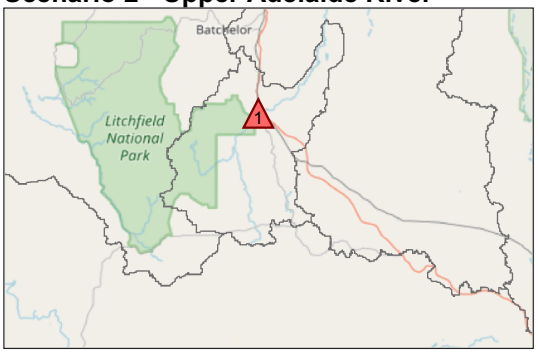


| No | Site Name | Highest Modelled Level (m) | Time/Date |
|---|---|---|---|
| 1 | Adelaide River Town | 12.4 | 23/03/2026 06:30 ACST |

### 7-DAY-OUTLOOK: Modelled Flood Level - Onwards from 22/03/2026 10:30, 6 hr increments

| No | Site Name | 22/03 | 23/03 | 24/03 | 25/03 | 26/03 | 27/03 | 28/03 | 29 |
|---|---|---|---|---|---|---|---|---|---|
| 1 | Adelaide River Town | | | | | | | | |

Below Flood Level | Minor | Moderate | Major | No Scenario

*Maps show the highest flood classification reached in each area based on the 7-day model runs.*

**About this product**

- The river levels in this product are direct outputs from hydrological models, with limited forecaster input. The scenarios presented use forecast rainfall and estimates of catchment wetness and rainfall losses, and are uncertain.
- The highest river height modelled within the 7-day period may not necessarily equate to the peak height for this event, as some slower-responding sites may peak after this period.
- Forecast locations, as defined in the Service Level Specification (SLS) for each State/Territory, and with modelling capability available, are included.
- Remember to check flood watches and flood warnings for the latest official forecasts.

# NT Flood Scenarios Outlook

Lower Daly River

FOR OFFICIAL USE ONLY. Not for onward distribution. For use by emergency services agencies only, as a guide for preparedness. Information presented is uncertain.

## Scenario 1 - Lower Daly River

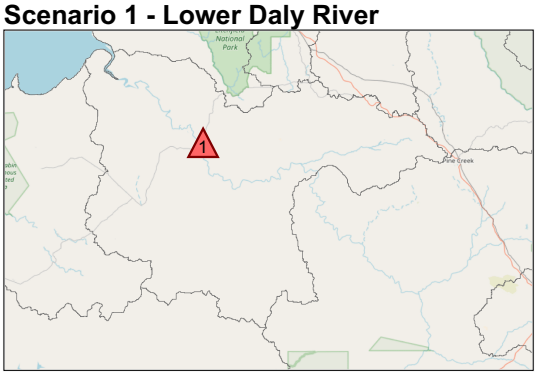


| No | Site Name | Highest Modelled Level (m) | Time/Date |
|---|---|---|---|
| 1 | Daly River Police Station | 15.0 | 26/03/2026 07:30 ACST |

### 7-DAY-OUTLOOK: Modelled Flood Level - Onwards from 22/03/2026 10:30, 6 hr increments

| No | Site Name | 22/03 | 23/03 | 24/03 | 25/03 | 26/03 | 27/03 | 28/03 | 29 |
|---|---|---|---|---|---|---|---|---|---|
| 1 | Daly River Police Station | | | | | | | | |

## Scenario 2 - Lower Daly River

| No | Site Name | Highest Modelled Level (m) | Time/Date |
|---|---|---|---|
| 1 | Daly River Police Station | 15.3 | 27/03/2026 05:30 ACST |

### 7-DAY-OUTLOOK: Modelled Flood Level - Onwards from 22/03/2026 10:30, 6 hr increments

| No | Site Name | 22/03 | 23/03 | 24/03 | 25/03 | 26/03 | 27/03 | 28/03 | 29 |
|---|---|---|---|---|---|---|---|---|---|
| 1 | Daly River Police Station | | | | | | | | |

Below Flood Level | Minor | Moderate | Major | No Scenario

*Maps show the highest flood classification reached in each area based on the 7-day model runs.*

**About this product**

- The river levels in this product are direct outputs from hydrological models, with limited forecaster input. The scenarios presented use forecast rainfall and estimates of catchment wetness and rainfall losses, and are uncertain.
- The highest river height modelled within the 7-day period may not necessarily equate to the peak height for this event, as some slower-responding sites may peak after this period.
- Forecast locations, as defined in the Service Level Specification (SLS) for each State/Territory, and with modelling capability available, are included.
- Remember to check flood watches and flood warnings for the latest official forecasts.

# NT Flood Scenarios Outlook

Katherine River

FOR OFFICIAL USE ONLY. Not for onward distribution. For use by emergency services agencies only, as a guide for preparedness. Information presented is uncertain.

## Scenario 1 - Katherine River

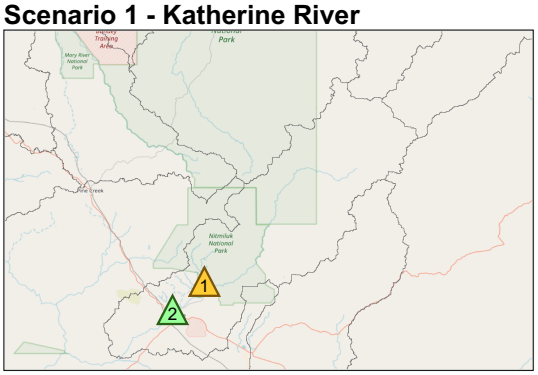


| No | Site Name | Highest Modelled Level (m) | Time/Date |
|---|---|---|---|
| 1 | Nitmiluk Centre | 6.3 | 23/03/2026 22:30 ACST |
| 2 | Katherine Bridge | 16.2 | 24/03/2026 09:30 ACST |

### 7-DAY-OUTLOOK: Modelled Flood Level - Onwards from 22/03/2026 10:30, 6 hr increments

| No | Site Name | 22/03 | 23/03 | 24/03 | 25/03 | 26/03 | 27/03 | 28/03 | 29 |
|---|---|---|---|---|---|---|---|---|---|
| 1 | Nitmiluk Centre | | | | | | | | |
| 2 | Katherine Bridge | | | | | | | | |

## Scenario 2 - Katherine River

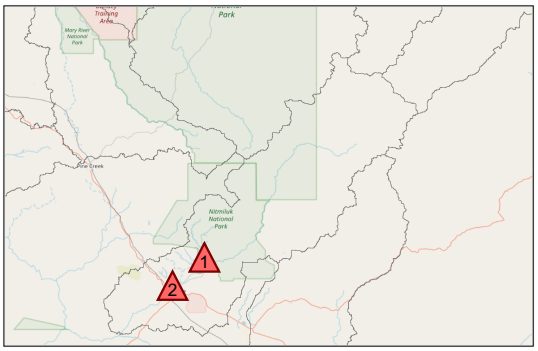


| No | Site Name | Highest Modelled Level (m) | Time/Date |
|---|---|---|---|
| 1 | Nitmiluk Centre | 8.7 | 23/03/2026 23:30 ACST |
| 2 | Katherine Bridge | 18.3 | 24/03/2026 08:30 ACST |

### 7-DAY-OUTLOOK: Modelled Flood Level - Onwards from 22/03/2026 10:30, 6 hr increments

| No | Site Name | 22/03 | 23/03 | 24/03 | 25/03 | 26/03 | 27/03 | 28/03 | 29 |
|---|---|---|---|---|---|---|---|---|---|
| 1 | Nitmiluk Centre | | | | | | | | |
| 2 | Katherine Bridge | | | | | | | | |

Below Flood Level | Minor | Moderate | Major | No Scenario

*Maps show the highest flood classification reached in each area based on the 7-day model runs.*

**About this product**

- The river levels in this product are direct outputs from hydrological models, with limited forecaster input. The scenarios presented use forecast rainfall and estimates of catchment wetness and rainfall losses, and are uncertain.
- The highest river height modelled within the 7-day period may not necessarily equate to the peak height for this event, as some slower-responding sites may peak after this period.
- Forecast locations, as defined in the Service Level Specification (SLS) for each State/Territory, and with modelling capability available, are included.
- Remember to check flood watches and flood warnings for the latest official forecasts.

# NT Flood Scenarios Outlook

Waterhouse River

FOR OFFICIAL USE ONLY. Not for onward distribution. For use by emergency services agencies only, as a guide for preparedness. Information presented is uncertain.

## Scenario 1 - Waterhouse River

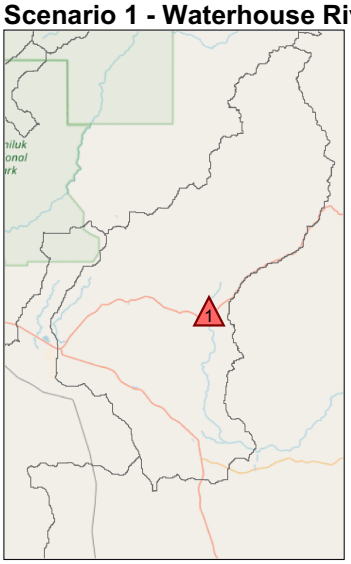


| No | Site Name | Highest Modelled Level (m) | Time/Date |
|---|---|---|---|
| 1 | Beswick Bridge | 9.0 | 23/03/2026 21:30 ACST |

### 7-DAY-OUTLOOK: Modelled Flood Level - Onwards from 22/03/2026 10:30, 6 hr increments

| No | Site Name | 22/03 | 23/03 | 24/03 | 25/03 | 26/03 | 27/03 | 28/03 | 29 |
|---|---|---|---|---|---|---|---|---|---|
| 1 | Beswick Bridge | | | | | | | | |

## Scenario 2 - Waterhouse River

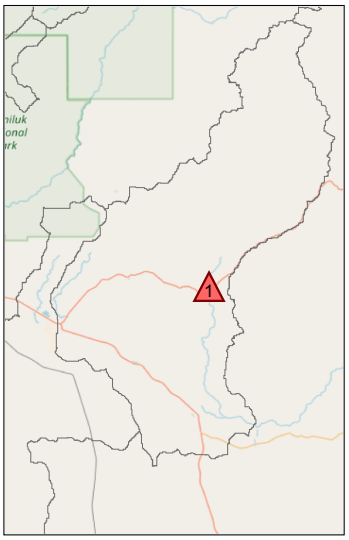


| No | Site Name | Highest Modelled Level (m) | Time/Date |
|---|---|---|---|
| 1 | Beswick Bridge | 9.4 | 23/03/2026 23:30 ACST |

### 7-DAY-OUTLOOK: Modelled Flood Level - Onwards from 22/03/2026 10:30, 6 hr increments

| No | Site Name | 22/03 | 23/03 | 24/03 | 25/03 | 26/03 | 27/03 | 28/03 | 29 |
|---|---|---|---|---|---|---|---|---|---|
| 1 | Beswick Bridge | | | | | | | | |

Below Flood Level | Minor | Moderate | Major | No Scenario

*Maps show the highest flood classification reached in each area based on the 7-day model runs.*

**About this product**

- The river levels in this product are direct outputs from hydrological models, with limited forecaster input. The scenarios presented use forecast rainfall and estimates of catchment wetness and rainfall losses, and are uncertain.
- The highest river height modelled within the 7-day period may not necessarily equate to the peak height for this event, as some slower-responding sites may peak after this period.
- Forecast locations, as defined in the Service Level Specification (SLS) for each State/Territory, and with modelling capability available, are included.
- Remember to check flood watches and flood warnings for the latest official forecasts.

# NT Flood Scenarios Outlook

McArthur River

FOR OFFICIAL USE ONLY. Not for onward distribution. For use by emergency services agencies only, as a guide for preparedness. Information presented is uncertain.

## Scenario 1 - McArthur River

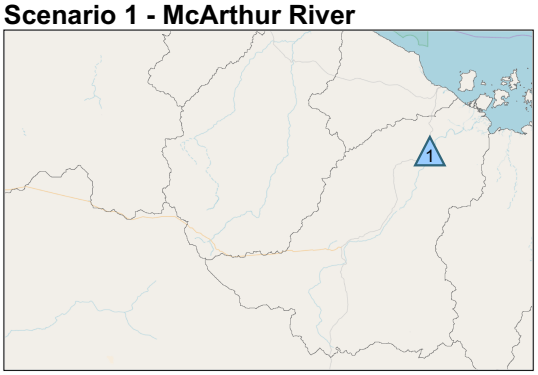


| No | Site Name | Highest Modelled Level (m) | Time/Date |
|---|---|---|---|
| 1 | Borroloola | 2.2 | 22/03/2026 10:30 ACST |

### 7-DAY-OUTLOOK: Modelled Flood Level - Onwards from 22/03/2026 10:30, 6 hr increments

| No | Site Name | 22/03 | 23/03 | 24/03 | 25/03 | 26/03 | 27/03 | 28/03 | 29 |
|---|---|---|---|---|---|---|---|---|---|
| 1 | Borroloola | | | | | | | | |

## Scenario 2 - McArthur River

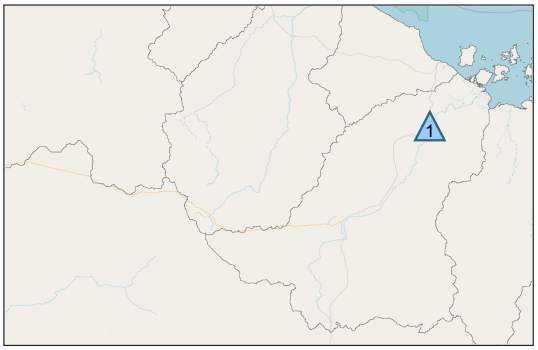


| No | Site Name | Highest Modelled Level (m) | Time/Date |
|---|---|---|---|
| 1 | Borroloola | 2.2 | 22/03/2026 10:30 ACST |

### 7-DAY-OUTLOOK: Modelled Flood Level - Onwards from 22/03/2026 10:30, 6 hr increments

| No | Site Name | 22/03 | 23/03 | 24/03 | 25/03 | 26/03 | 27/03 | 28/03 | 29 |
|---|---|---|---|---|---|---|---|---|---|
| 1 | Borroloola | | | | | | | | |

Below Flood Level | Minor | Moderate | Major | No Scenario

*Maps show the highest flood classification reached in each area based on the 7-day model runs.*

**About this product**

- The river levels in this product are direct outputs from hydrological models, with limited forecaster input. The scenarios presented use forecast rainfall and estimates of catchment wetness and rainfall losses, and are uncertain.
- The highest river height modelled within the 7-day period may not necessarily equate to the peak height for this event, as some slower-responding sites may peak after this period.
- Forecast locations, as defined in the Service Level Specification (SLS) for each State/Territory, and with modelling capability available, are included.
- Remember to check flood watches and flood warnings for the latest official forecasts.