Australian Government
Bureau of Meteorology

QLD Flood Scenarios Outlook

For most of Queensland

FOR OFFICIAL USE ONLY. Not for onward distribution. For use by emergency services agencies only, as a guide for preparedness. Information presented is uncertain.

ISSUE NUMBER - 4

ISSUE TIME
09/03/2026 13:01 AEST

START TIME OF FORECAST
09/03/2026 11:00 AEST

Event Description

- A widespread heavy rain event continues for central Queensland and the Wide Bay and Burnett on Monday
- Rainfall likely to mostly contract offshore by Tuesday morning
- Widespread minor to moderate flooding possible across much of the state, isolated major flooding possible
- Flood Watch current for most of Queensland
- Multiple catchments with minor to major warnings current are not shown in Flood Scenarios Outlook

Scenario 1
Most Likely

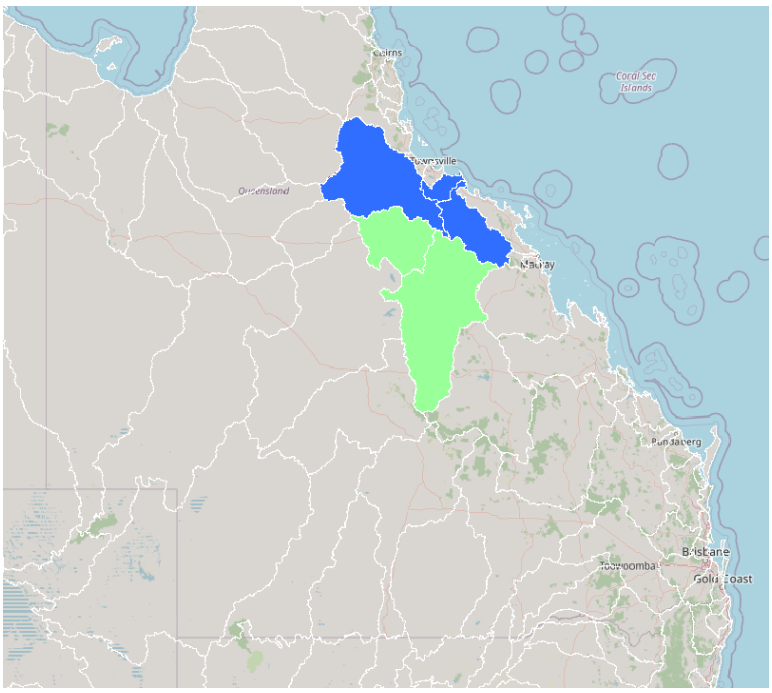

Scenario 2
Higher Possible

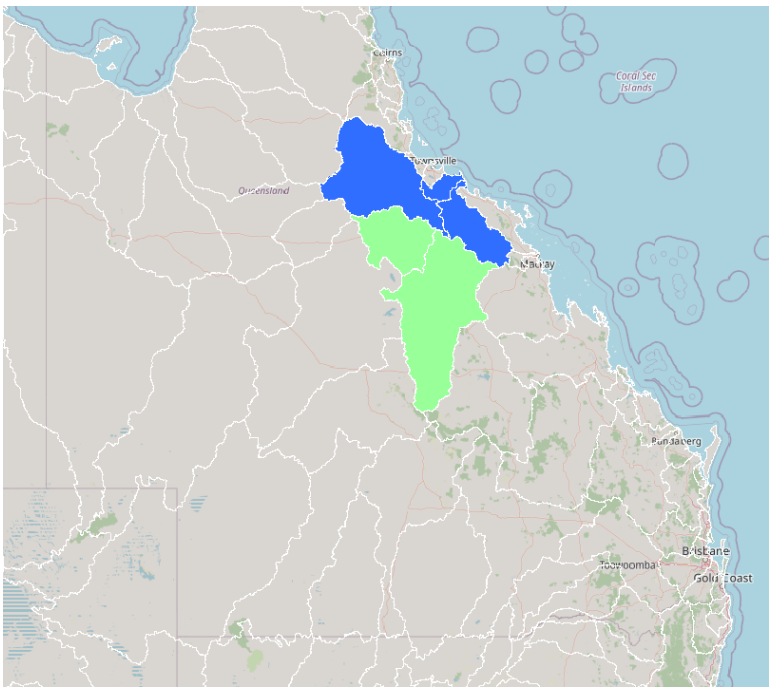

Below Flood Level | Minor | Moderate | Major | No Scenario

Maps show the highest flood classification reached in each area based on the 7-day model runs.

This report is produced to assist emergency services to plan and prepare for flood events. The scenarios presented use forecast rainfall and estimates of catchment wetness and rainfall losses, and are uncertain. The scenarios are based on the best available information at the time of issue, however actual river levels may differ from those shown in this report. Remember to check flood watches and flood warnings for the latest official forecasts.

QLD Flood Scenarios Outlook

Haughton River

FOR OFFICIAL USE ONLY. Not for onward distribution. For use by emergency services agencies only, as a guide for preparedness. Information presented is uncertain.

Scenario 1 - Haughton River

No	Site Name	Highest Modelled Level (m)	Time/Date
1	Giru	0.9	09/03/2026 11:00 AEST

7-DAY-OUTLOOK: Modelled Flood Level - Onwards from 09/03/2026 11:00, 6 hr increments

No	Site Name	09/03			10/03				11/03				12/03				13/03				14/03				15/03				16
1	Giru																												

Scenario 2 - Haughton River

No	Site Name	Highest Modelled Level (m)	Time/Date
1	Giru	1.0	09/03/2026 11:00 AEST

7-DAY-OUTLOOK: Modelled Flood Level - Onwards from 09/03/2026 11:00, 6 hr increments

No	Site Name	09/03			10/03				11/03				12/03				13/03				14/03				15/03				16
1	Giru																												

Below Flood Level | Minor | Moderate | Major | No Scenario

Maps show the highest flood classification reached in each area based on the 7-day model runs.

About this product

- The river levels in this product are direct outputs from hydrological models, with limited forecaster input. The scenarios presented use forecast rainfall and estimates of catchment wetness and rainfall losses, and are uncertain.
- The highest river height modelled within the 7-day period may not necessarily equate to the peak height for this event, as some slower-responding sites may peak after this period.
- Forecast locations, as defined in the Service Level Specification (SLS) for each State/Territory, and with modelling capability available, are included.
- Remember to check flood watches and flood warnings for the latest official forecasts.

QLD Flood Scenarios Outlook

Belyando and Suttor Rivers to Burdekin Falls Dam

FOR OFFICIAL USE ONLY. Not for onward distribution. For use by emergency services agencies only, as a guide for preparedness. Information presented is uncertain.

Scenario 1 - Belyando and Suttor Rivers to Burdekin Falls Dam

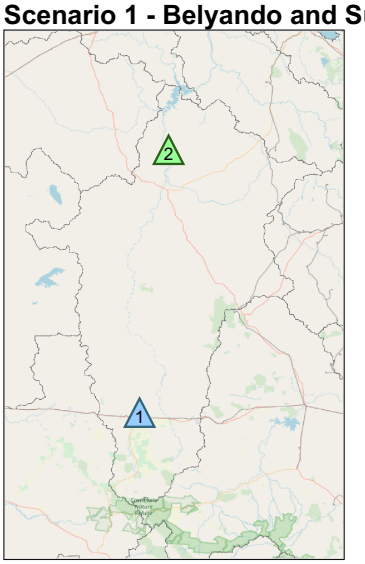

No	Site Name	Highest Modelled Level (m)	Time/Date
1	Alpha	3.2	11/03/2026 20:00 AEST
2	St Anns	5.6	16/03/2026 04:00 AEST

7-DAY-OUTLOOK: Modelled Flood Level - Onwards from 09/03/2026 11:00, 6 hr increments

No	Site Name	09/03	10/03	11/03	12/03	13/03	14/03	15/03	16
1	Alpha								
2	St Anns								

Scenario 2 - Belyando and Suttor Rivers to Burdekin Falls Dam

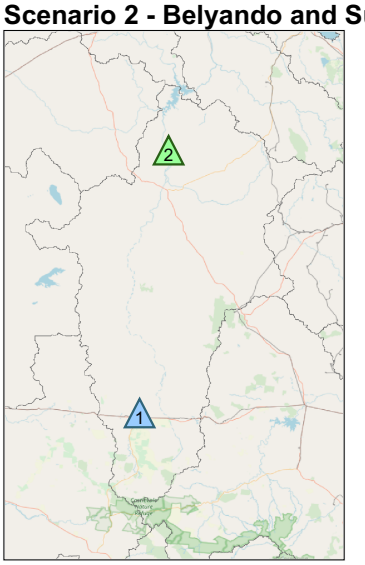

No	Site Name	Highest Modelled Level (m)	Time/Date
1	Alpha	3.3	11/03/2026 18:00 AEST
2	St Anns	5.8	16/03/2026 11:00 AEST

7-DAY-OUTLOOK: Modelled Flood Level - Onwards from 09/03/2026 11:00, 6 hr increments

No	Site Name	09/03	10/03	11/03	12/03	13/03	14/03	15/03	16
1	Alpha								
2	St Anns								

Below Flood Level | Minor | Moderate | Major | No Scenario

Maps show the highest flood classification reached in each area based on the 7-day model runs.

About this product

- The river levels in this product are direct outputs from hydrological models, with limited forecaster input. The scenarios presented use forecast rainfall and estimates of catchment wetness and rainfall losses, and are uncertain.
- The highest river height modelled within the 7-day period may not necessarily equate to the peak height for this event, as some slower-responding sites may peak after this period.
- Forecast locations, as defined in the Service Level Specification (SLS) for each State/Territory, and with modelling capability available, are included.
- Remember to check flood watches and flood warnings for the latest official forecasts.

QLD Flood Scenarios Outlook

Cape River to Burdekin Falls Dam

FOR OFFICIAL USE ONLY. Not for onward distribution. For use by emergency services agencies only, as a guide for preparedness. Information presented is uncertain.

Scenario 1 - Cape River to Burdekin Falls Dam

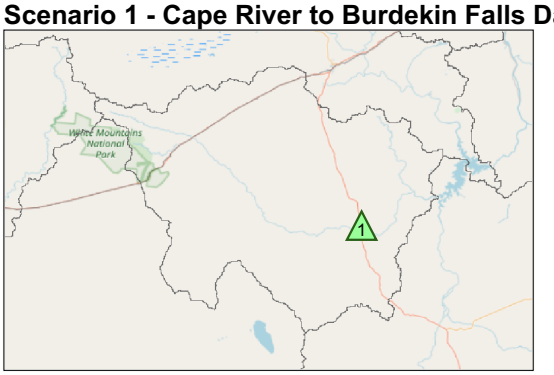

No	Site Name	Highest Modelled Level (m)	Time/Date
1	Taemas	5.7	16/03/2026 03:00 AEST

7-DAY-OUTLOOK: Modelled Flood Level - Onwards from 09/03/2026 11:00, 6 hr increments

No	Site Name	09/03	10/03	11/03	12/03	13/03	14/03	15/03	16
1	Taemas								

Scenario 2 - Cape River to Burdekin Falls Dam

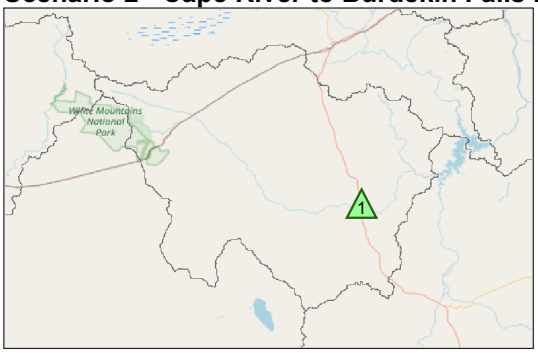

No	Site Name	Highest Modelled Level (m)	Time/Date
1	Taemas	6.5	15/03/2026 19:00 AEST

7-DAY-OUTLOOK: Modelled Flood Level - Onwards from 09/03/2026 11:00, 6 hr increments

No	Site Name	09/03	10/03	11/03	12/03	13/03	14/03	15/03	16
1	Taemas								

Below Flood Level | Minor | Moderate | Major | No Scenario

Maps show the highest flood classification reached in each area based on the 7-day model runs.

About this product

- The river levels in this product are direct outputs from hydrological models, with limited forecaster input. The scenarios presented use forecast rainfall and estimates of catchment wetness and rainfall losses, and are uncertain.
- The highest river height modelled within the 7-day period may not necessarily equate to the peak height for this event, as some slower-responding sites may peak after this period.
- Forecast locations, as defined in the Service Level Specification (SLS) for each State/Territory, and with modelling capability available, are included.
- Remember to check flood watches and flood warnings for the latest official forecasts.

QLD Flood Scenarios Outlook

Burdekin River to Burdekin Falls Dam

FOR OFFICIAL USE ONLY. Not for onward distribution. For use by emergency services agencies only, as a guide for preparedness. Information presented is uncertain.

Scenario 1 - Burdekin River to Burdekin Falls Dam

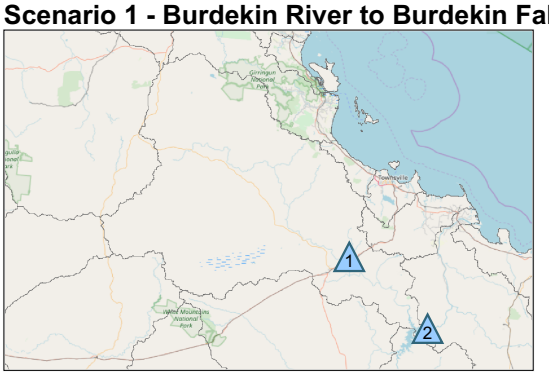

No	Site Name	Highest Modelled Level (m)	Time/Date
1	Sellheim	4.3	09/03/2026 11:00 AEST
2	Burdekin Dam	1.9	16/03/2026 07:00 AEST

7-DAY-OUTLOOK: Modelled Flood Level - Onwards from 09/03/2026 11:00, 6 hr increments

No	Site Name	09/03			10/03				11/03				12/03				13/03				14/03				15/03				16
1	Sellheim																												
2	Burdekin Dam																												

Scenario 2 - Burdekin River to Burdekin Falls Dam

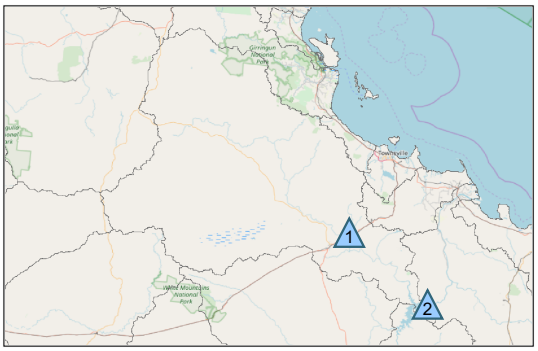

No	Site Name	Highest Modelled Level (m)	Time/Date
1	Sellheim	4.7	16/03/2026 01:00 AEST
2	Burdekin Dam	2.1	16/03/2026 06:00 AEST

7-DAY-OUTLOOK: Modelled Flood Level - Onwards from 09/03/2026 11:00, 6 hr increments

No	Site Name	09/03			10/03				11/03				12/03				13/03				14/03				15/03				16
1	Sellheim																												
2	Burdekin Dam																												

Below Flood Level | Minor | Moderate | Major | No Scenario

Maps show the highest flood classification reached in each area based on the 7-day model runs.

About this product

- The river levels in this product are direct outputs from hydrological models, with limited forecaster input. The scenarios presented use forecast rainfall and estimates of catchment wetness and rainfall losses, and are uncertain.
- The highest river height modelled within the 7-day period may not necessarily equate to the peak height for this event, as some slower-responding sites may peak after this period.
- Forecast locations, as defined in the Service Level Specification (SLS) for each State/Territory, and with modelling capability available, are included.
- Remember to check flood watches and flood warnings for the latest official forecasts.

QLD Flood Scenarios Outlook

Burdekin River downstream of Burdekin Falls Dam

FOR OFFICIAL USE ONLY. Not for onward distribution. For use by emergency services agencies only, as a guide for preparedness. Information presented is uncertain.

Scenario 1 - Burdekin River downstream of Burdekin Falls Dam

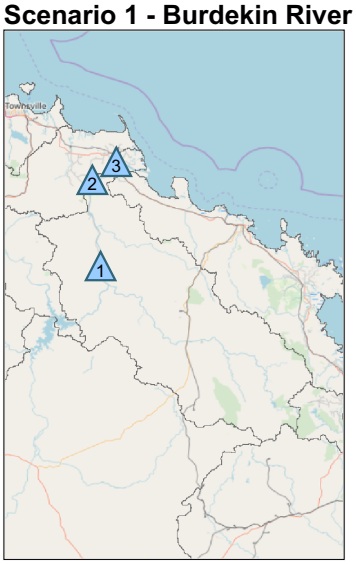

No	Site Name	Highest Modelled Level (m)	Time/Date
1	Dalbeg	8.6	09/03/2026 15:00 AEST
2	Clare	7.7	09/03/2026 22:00 AEST
3	Inkerman Bridge	6.2	09/03/2026 11:00 AEST

7-DAY-OUTLOOK: Modelled Flood Level - Onwards from 09/03/2026 11:00, 6 hr increments

No	Site Name	09/03			10/03				11/03				12/03				13/03				14/03				15/03				16
1	Dalbeg																												
2	Clare																												
3	Inkerman Bridge																												

Scenario 2 - Burdekin River downstream of Burdekin Falls Dam

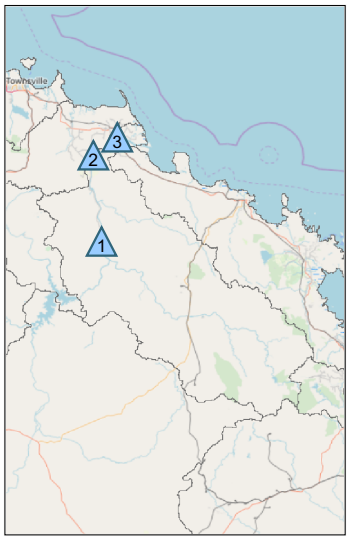

No	Site Name	Highest Modelled Level (m)	Time/Date
1	Dalbeg	8.6	09/03/2026 15:00 AEST
2	Clare	7.7	09/03/2026 22:00 AEST
3	Inkerman Bridge	6.2	09/03/2026 11:00 AEST

7-DAY-OUTLOOK: Modelled Flood Level - Onwards from 09/03/2026 11:00, 6 hr increments

No	Site Name	09/03			10/03				11/03				12/03				13/03				14/03				15/03				16
1	Dalbeg																												
2	Clare																												
3	Inkerman Bridge																												

Below Flood Level | Minor | Moderate | Major | No Scenario

Maps show the highest flood classification reached in each area based on the 7-day model runs.

About this product

- The river levels in this product are direct outputs from hydrological models, with limited forecaster input. The scenarios presented use forecast rainfall and estimates of catchment wetness and rainfall losses, and are uncertain.
- The highest river height modelled within the 7-day period may not necessarily equate to the peak height for this event, as some slower-responding sites may peak after this period.
- Forecast locations, as defined in the Service Level Specification (SLS) for each State/Territory, and with modelling capability available, are included.
- Remember to check flood watches and flood warnings for the latest official forecasts.